Dr. Ali Abbas

Software Engineer | Computer Vision Researcher | GIS & Embedded Systems Specialist

Lebanon
aabbas7@gmail.com
Mobile: +96176482120
WhatsApp: +96176482120

Professional Profiles

- GitHub
- LinkedIn
- Google Scholar
- ORCID
- ResearchGate
- Personal Website
- YouTube Channel

MapViewer for Android

Search and Rescue Support Platform

Multi-Language Support (English / Arabic / Other Languages)

Overview

MapViewer for Android is a secure, offline-capable operational platform designed to support search and rescue missions, field coordination, aerial monitoring, and secure tactical communications in environments with limited or unavailable internet connectivity.

The system integrates three major operational components into a unified mobile platform:

- UAV (Drone) Operations
- Secure Offline Digital Mapping
- Encrypted Peer-to-Peer Communications

The platform is specifically designed for mission-critical environments where privacy, operational continuity, and offline functionality are essential.

Core Operational Modules

1. UAV (Drone) Operations

MapViewer integrates directly with DJI drones that support the DJI SDK4 development framework, enabling real-time aerial monitoring and field coordination.

The platform architecture is modular and extensible, allowing adaptation and integration with additional UAV platforms and drone manufacturers depending on operational requirements and available SDK/API support.

Potential future integrations may include:

- Autel Robotics
- Parrot drones
- PX4 / ArduPilot-based UAV systems
- Custom enterprise UAV platforms
- Military or industrial drone systems with compatible communication interfaces

Key Features

• Direct drone control through the Android application.
• Compatible with DJI drone platforms supporting SDK4.
• Extensible architecture for integration with other UAV platforms and SDKs.
• Upload and manage drone flight coordinates using multiple coordinate formats.
• Real-time transmission of drone video streams with synchronized GPS coordinates.
• Share live aerial imagery with other MapViewer users during missions.
• Improve aerial situational awareness beyond standard visual monitoring.
• Support for coordinated field operations between drone operators and ground teams.
• Scalable drone communication layer for future multi-vendor UAV ecosystems.

Operational Benefits

• Real-time aerial reconnaissance during search and rescue missions.
• Rapid area assessment in disaster zones or inaccessible terrain.
• Improved coordination between multiple rescue units.
• Flexibility to support evolving drone technologies and mission requirements.
• Reduced dependency on a single UAV vendor ecosystem.

---

2. Secure Offline Digital Mapping

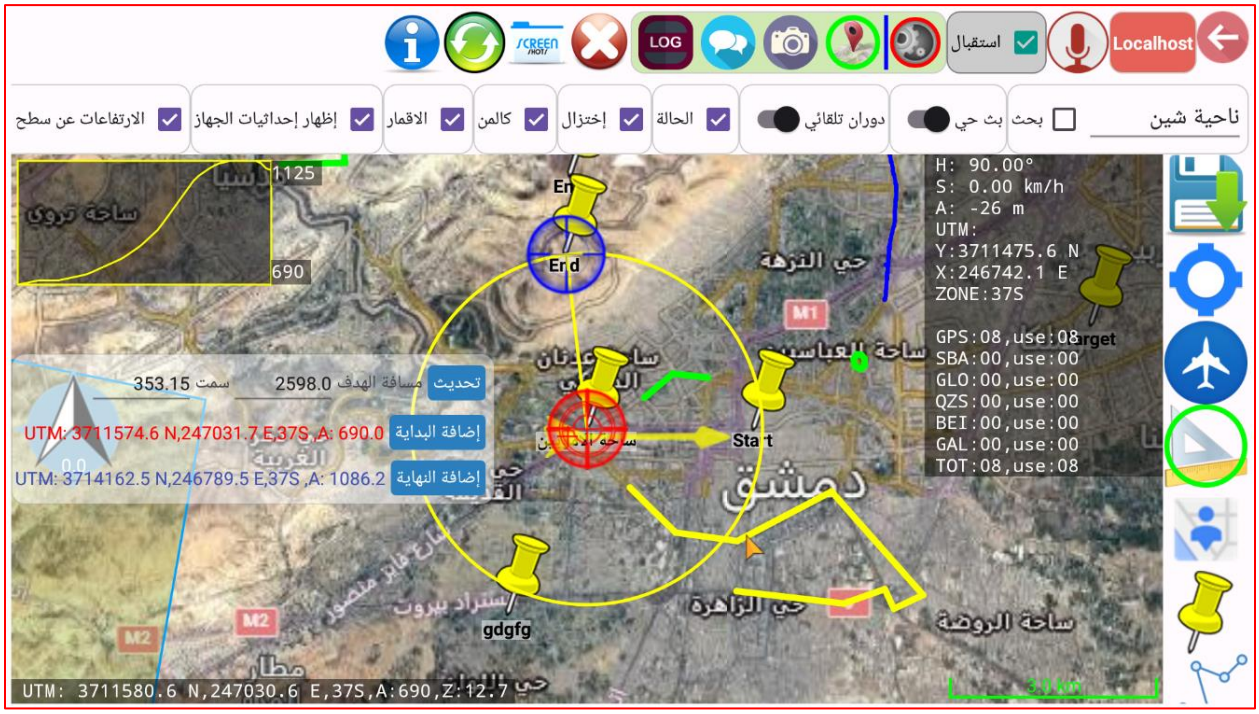

Unlike traditional online mapping platforms, MapViewer is designed for secure offline operation without dependency on external servers or cloud synchronization.

Security and Privacy Advantages

Most commercial map applications are optimized for navigation and continuously synchronize user data with external cloud services, which may compromise operational privacy.

MapViewer eliminates these risks through a fully offline architecture.

Key Features

- Fully offline operation with no dependency on internet connectivity.

- No synchronization with external servers.
- Secure storage of operational map data locally on the device.
- Support for multiple map sources and map layers.
- Real-time GPS positioning and navigation.
- Multiple waypoint categories for operational planning and mission management.
- Coordinate-linked information management.
- Distance and azimuth measurement tools.
- Elevation profile generation between selected points.
- Geographic coordinate grid display with show/hide functionality.
- Map printing capability for physical mission planning and backup.
- Support for multiple coordinate systems:
    - UTM
    - Geographic Coordinates
    - SK42

Operational Benefits

- High operational privacy.
- Reliable field operation in remote or disconnected areas.
- Enhanced mission planning and terrain analysis.

---

3. Encrypted Peer-to-Peer Communications

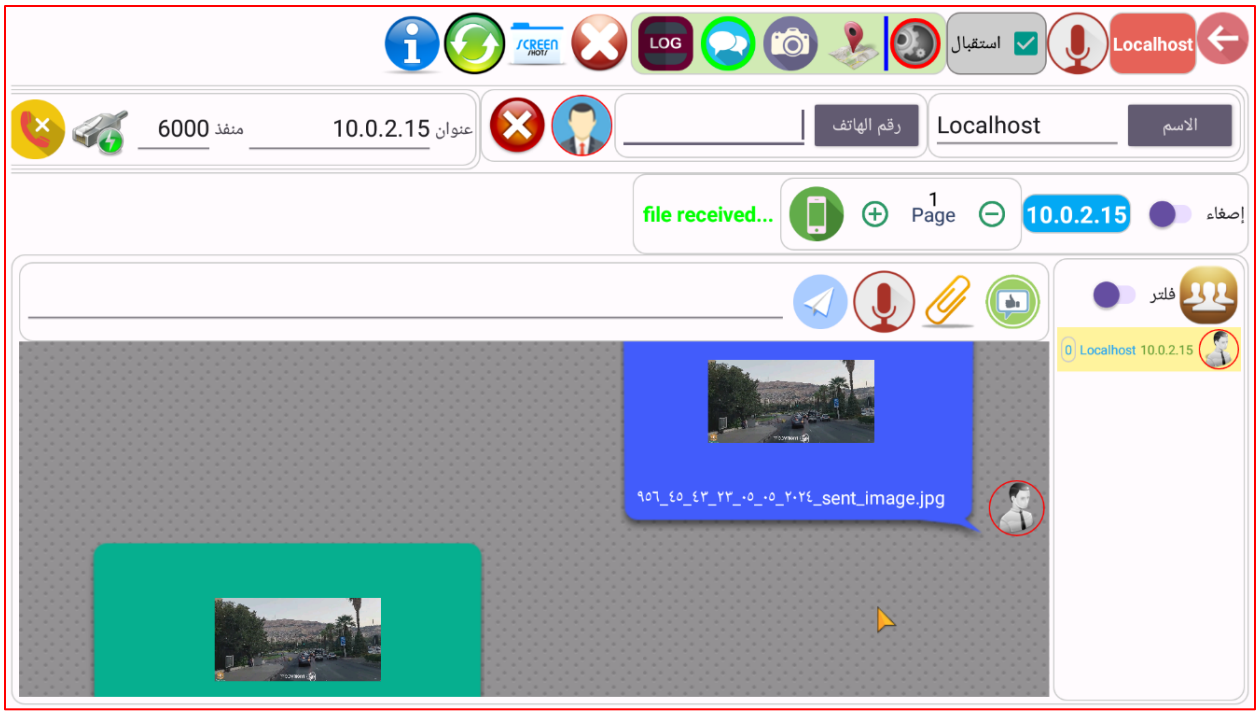

Modern messaging platforms typically rely on centralized cloud infrastructure, exposing sensitive operational data to third-party systems and requiring continuous internet access.

MapViewer introduces a secure alternative communication framework specifically designed for field operations and emergency response scenarios.

Communication Architecture

The system operates over:

- DATA-SIM private networks
- Local Wi-Fi networks
- Internal tactical communication networks

The mobile device itself acts as a communication node rather than relying on external servers.

Security Features

- End-to-end encrypted communication.
- No dependency on public internet infrastructure.
- Localized network architecture for secure internal communication.
- Reduced risk of external data interception.

Supported Communication Types

- Text messaging
- Voice communication
- Live audio/video streaming
- GPS coordinate sharing
- Image and video transfer
- Exchange of operational files and mission data

User Experience

The interface design follows familiar messaging application concepts similar to:

- WhatsApp
- Telegram
- Other modern messaging platforms

This minimizes training requirements and improves user adoption.

System Architecture Comparison

Traditional Messaging Applications

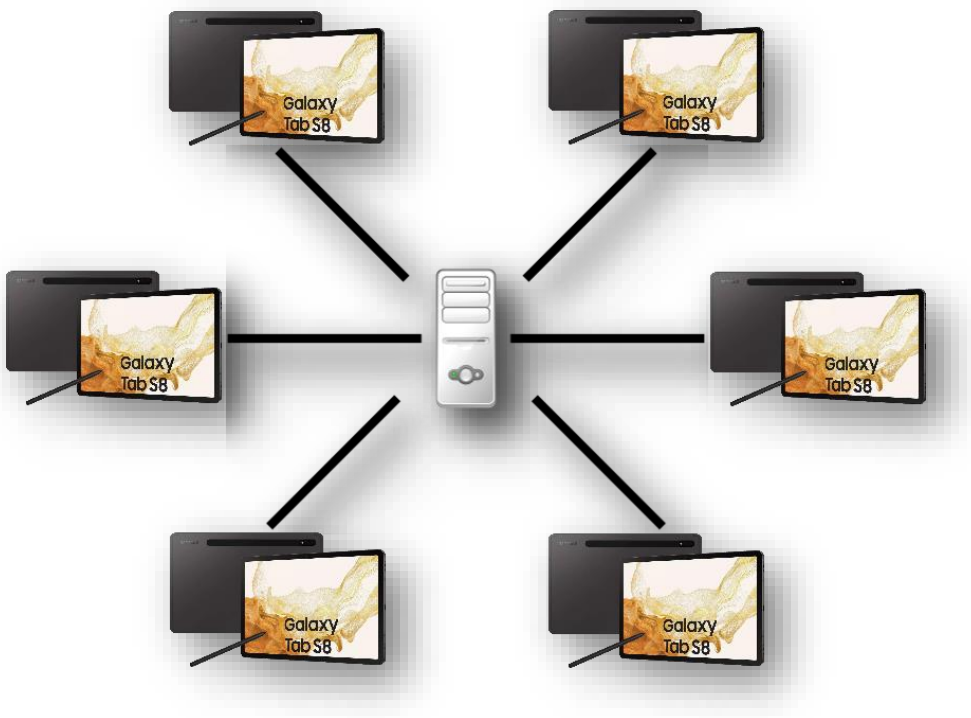

Applications such as WhatsApp and Telegram rely on a centralized client-server architecture where all communications pass through external servers connected via the internet.

Advantages

- Easy device connectivity management.
- Reduced resource usage on client devices.
- Centralized communication control.

Limitations

- Communication failure if the central server becomes unavailable.
- Dependence on internet connectivity.
- Potential exposure of sensitive operational data.

MapViewer Peer-to-Peer Architecture

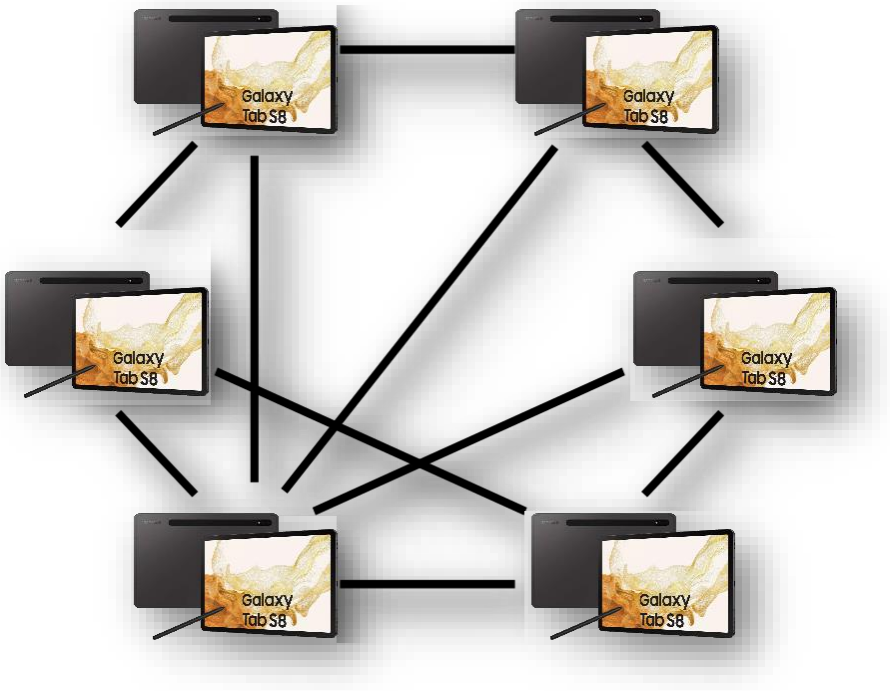

MapViewer uses a decentralized Peer-to-Peer (P2P) architecture that allows devices to communicate directly without a central server.

Advantages

- No single point of failure.
- Continued operation even if some devices disconnect.
- Fully functional in isolated operational environments.
- Increased communication resilience during emergency operations.
- Enhanced privacy and operational security.

Limitations

- Higher reliance on device resources.
- More complex device discovery and connectivity monitoring.

Ground Target Localization and Coordinate Estimation

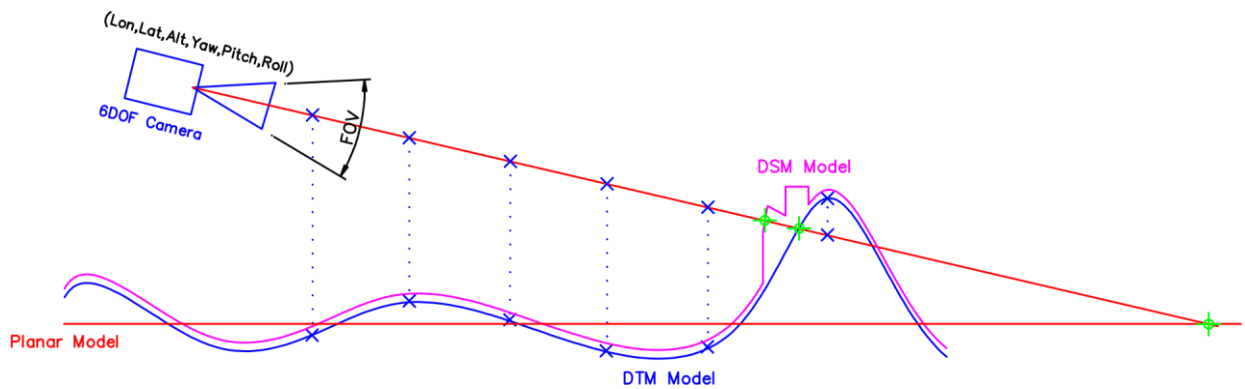

MapViewer includes advanced ground target localization capabilities that enable real-time determination of target coordinates using UAV-mounted electro-optical sensing systems and geospatial triangulation techniques.

The system determines the geographic position of observed ground targets within global/inertial coordinate systems by combining:

- UAV GPS/GNSS positioning data
- UAV attitude information
- Camera and gimbal orientation angles
- Real-time telemetry data
- Terrain elevation information

This functionality is designed for mission-critical operations requiring accurate target positioning, situational awareness, and coordination between aerial and ground units.

Localization Methodology

The localization process is based on vector triangulation and line-of-sight projection techniques.

A viewing vector is generated from the UAV camera toward the detected ground target using:
• UAV geographic coordinates (latitude, longitude, altitude)
• UAV attitude angles:

- Roll
- Pitch
- Yaw
  - Camera/gimbal orientation angles
  - Camera intrinsic parameters and field-of-view characteristics
  - Real-time UAV telemetry data

The observation vector is transformed into the global coordinate frame, and the intersection point between the viewing vector and the terrain surface is calculated to estimate the target location.

To improve localization accuracy, the system supports loading and localizing Digital Elevation Models (DEM) directly into the device memory. This enables terrain-aware coordinate estimation and improves accuracy in:
• Mountainous regions
• Uneven terrain
• Urban environments
• Complex operational landscapes

The DEM-based terrain correction functionality operates completely offline and does not require cloud connectivity or external geospatial services.

Supported Coordinate Systems

The system supports localization and coordinate visualization using multiple geospatial reference systems, including:
• Geographic Coordinates (Latitude / Longitude)
• UTM Coordinate System
• SK42 Coordinate System
• Additional custom coordinate transformation frameworks

Key Features

• Real-time ground target coordinate estimation
• UAV telemetry and GPS/GNSS integration
• Terrain-aware localization using offline DEM data
• Camera and gimbal orientation integration
• Real-time target coordinate updates
• Support for electro-optical and thermal imaging payloads
• Offline geospatial processing and mapping
• Multi-target localization capability
• Coordinate export for mission planning and external systems
• Integration with digital maps and operational overlays
• Potential AI-assisted target detection and tracking integration

---

Operational Benefits

• Accurate localization of ground targets during search and rescue missions
• Improved situational awareness for field teams and command centers
• Faster coordination between aerial and ground rescue units

• Enhanced mission planning and target reporting
• Reduced response time in emergency scenarios
• Improved operational effectiveness in remote or inaccessible regions
• Reliable operation in disconnected or GPS-limited environments
• Increased precision in terrain-sensitive operations

Validation and Testing

The implemented localization capabilities and associated algorithms have been experimentally tested and validated under operational conditions.

Validated components include:
• Real-time UAV telemetry integration
• Camera orientation and gimbal tracking workflows
• Terrain-based coordinate correction using DEM data
• Vector triangulation and projection algorithms
• Offline geospatial processing pipelines
• Real-time visualization and target tracking workflows

The localization framework has been designed to operate reliably in field environments requiring secure, offline, and resilient operational capabilities.

Future Development Opportunities

Potential future enhancements include:
• AI-assisted target recognition and classification
• Multi-UAV collaborative triangulation
• Real-time moving target tracking
• Thermal and infrared sensor fusion
• SLAM-assisted localization in GPS-denied environments
• Real-time 3D terrain visualization
• Autonomous target tracking and mission coordination
• Integration with external command-and-control systems
• Advanced predictive tracking and behavior analysis
• Multi-sensor fusion with radar and external positioning systems

---

Target Applications

MapViewer is suitable for:

- Search and Rescue Operations
- Emergency Response Teams
- Disaster Management
- UAV-Based Field Monitoring
- Tactical Coordination Teams
- Offline Geospatial Operations
- Secure Field Communications
- Humanitarian Missions
- Industrial and Infrastructure Inspection
- Environmental Monitoring

Technology Stack

Mobile Platform

- Android

Drone Integration

- DJI SDK4
- Planned DJI SDK5 migration
- Extensible UAV integration architecture
- Multi-vendor UAV SDK/API support capability
- PX4 / ArduPilot integration potential

GIS & Mapping

- Offline Digital Maps
- GPS Navigation
- Coordinate Transformation Systems

Communications

- Peer-to-Peer Networking
- Encrypted Data Exchange
- Wi-Fi / DATA-SIM Networks

Programming Technologies

- Java
- Android SDK

- GIS Libraries
- Real-Time Communication Frameworks

Future Development Opportunities

MapViewer is designed with a modular and scalable architecture that enables continuous expansion of operational capabilities for future mission requirements, advanced UAV technologies, and AI-assisted field operations.

Potential Future Enhancements

• AI-assisted object detection, recognition, and tracking
• Real-time thermal imaging and infrared camera integration
• Multi-drone coordination and cooperative mission management
• Mesh networking support for decentralized field communications
• Satellite communication integration for remote-area operations
• Offline AI-based terrain analysis and environmental assessment
• Advanced team management and mission coordination dashboard
• Cross-platform desktop integration and command-center support
• Optional secure cloud synchronization module
• Advanced mission replay, telemetry analysis, and operational analytics
• Augmented reality (AR) overlays for tactical field visualization
• Real-time geofencing and restricted-area monitoring
• Autonomous waypoint navigation and mission automation
• Integration with external sensors and IoT field devices
• AI-assisted anomaly detection and emergency event prediction
• Support for heterogeneous UAV fleets and multi-vendor drone ecosystems

---

Advanced UAV Integration and SDK Evolution

DJI SDK5 Migration and Next-Generation Drone Support

To support newer generations of UAV hardware and improve long-term platform sustainability, future development phases will include migration from DJI SDK4 to DJI SDK5, while simultaneously expanding the architecture toward multi-vendor UAV interoperability.

The platform is being designed to support integration with additional drone ecosystems beyond DJI, depending on operational requirements and available SDK/API frameworks.

Potential future drone integrations may include:
• Autel Robotics
• Parrot UAV platforms
• PX4-based systems
• ArduPilot-based drones
• Custom enterprise UAV solutions
• Industrial and tactical drone platforms

Planned Enhancements

• Migration from DJI SDK4 to DJI SDK5
• Support for newer DJI drone platforms and firmware versions
• Improved flight stability and communication reliability
• Enhanced real-time telemetry and mission-control capabilities
• Expanded camera, payload, and gimbal control functions
• Improved live-streaming performance with lower latency
• Access to newer DJI intelligent flight APIs and autonomous features
• Better compatibility with future DJI enterprise drone ecosystems
• Advanced waypoint management and mission automation
• Improved SDK security and long-term maintainability
• Modular UAV abstraction layer for multi-vendor drone integration
• Unified mission-control interface across heterogeneous UAV platforms
• Support for coordinated multi-drone operations involving different UAV types
• Extended compatibility with custom telemetry protocols and communication interfaces

Operational Benefits

• Extended hardware compatibility with modern UAV devices
• Reduced dependency on a single drone manufacturer ecosystem
• Improved long-term sustainability and scalability of the platform
• Better operational performance in mission-critical environments
• Increased flexibility for AI-assisted autonomous UAV operations
• Enhanced interoperability for humanitarian, industrial, and emergency-response deployments
• Improved adaptability to evolving UAV technologies and procurement requirements
• Greater resilience in complex multi-agency operational scenarios

---

Conclusion

MapViewer for Android provides a secure, resilient, and offline-capable operational platform tailored for mission-critical environments where reliability, privacy, and real-time coordination are essential.

The platform's modular architecture also enables future adaptation to multiple UAV ecosystems, supporting long-term scalability and operational flexibility across different drone technologies.

By combining UAV operations, secure digital mapping, and encrypted peer-to-peer communications into a unified ecosystem, MapViewer delivers a powerful solution for modern search and rescue and field coordination operations.

Executive Summary

MapViewer for Android is an advanced operational platform developed to support search-and-rescue operations, emergency response coordination, secure tactical communications, and offline geospatial awareness in mission-critical environments. The platform combines UAV integration, secure digital mapping, encrypted peer-to-peer communication, and advanced ground target localization into a unified mobile ecosystem optimized for disconnected and privacy-sensitive operational scenarios.

The system has been architected with scalability, modularity, and resilience in mind, enabling future expansion toward AI-assisted mission management, autonomous UAV coordination, multi-vendor drone interoperability, and advanced geospatial analytics.

System Design Philosophy

The platform architecture follows several core engineering principles:

- Offline-first operational capability.
- Security-by-design communication architecture.
- Modular and extensible software components.
- Multi-platform UAV interoperability readiness.
- Real-time situational awareness support.
- Scalable mission coordination workflows.
- Reduced dependency on centralized cloud services.
- Resilient field operation under degraded network conditions.

These principles ensure the system remains operational during emergencies, natural disasters, remote-area deployments, and communication-constrained environments.

Artificial Intelligence and Computer Vision Integration

MapViewer has been designed with future-ready support for AI-assisted operational workflows. The platform architecture enables integration of computer vision models and intelligent analysis pipelines for UAV imagery, field monitoring, and operational decision support.

Potential AI-enabled capabilities include:
• Real-time object detection and classification.
• Human and vehicle tracking.
• Thermal anomaly detection.
• Fire and smoke detection.
• Terrain change analysis.
• Automated threat and hazard identification.
• Intelligent route planning and path optimization.
• AI-assisted mission prioritization.
• Video analytics for aerial surveillance.
• Sensor fusion using electro-optical and thermal payloads.

The integration of AI and computer vision technologies significantly enhances situational awareness, operational efficiency, and response speed during critical missions.

Operational Reliability and Resilience

Operational continuity is a primary design objective of the MapViewer platform. The system is engineered to continue functioning under unstable connectivity conditions, partial network outages, or isolated deployment scenarios.

Reliability-oriented features include:
• Decentralized peer-to-peer communication architecture.
• Offline digital map access.
• Local device-based data processing.
• Redundant communication workflows.
• Terrain-aware navigation support.
• Local storage of operational mission data.
• Reduced dependency on cloud infrastructure.
• Scalable mission synchronization mechanisms.

These capabilities make the platform suitable for emergency-response teams, humanitarian operations, border monitoring, industrial field inspection, and tactical coordination scenarios.

Cybersecurity and Data Protection

Security considerations are integrated into the system architecture at multiple operational levels. The platform minimizes exposure to external infrastructure while supporting secure field coordination and protected information exchange.

Security mechanisms and operational protections include:
• End-to-end encrypted communications.
• Localized data storage.
• Reduced external attack surface.
• Secure peer discovery and communication channels.
• Offline operational capability without mandatory cloud synchronization.
• Secure exchange of mission-critical files and geospatial data.
• Flexible deployment within private tactical networks.

The security-oriented architecture supports sensitive operations where operational confidentiality and data integrity are critical requirements.

Research and Engineering Background

The technologies and methodologies implemented within MapViewer are supported by extensive research experience in computer vision, UAV navigation, geospatial systems, target localization, and real-time operational software development.

The localization framework and UAV-assisted coordinate estimation techniques are derived from advanced research in aerial image registration, terrain-based positioning, sensor fusion, and vector-based target localization methodologies. Several concepts integrated into the platform were experimentally validated through academic research and practical software engineering development.

Final Technical Assessment

MapViewer for Android represents a comprehensive operational ecosystem that combines secure mobile communications, UAV mission support, offline geospatial processing, and advanced situational awareness capabilities into a unified architecture.

The platform is particularly suitable for organizations requiring secure, resilient, and scalable field-operation systems capable of functioning in disconnected environments while maintaining high levels of operational flexibility and future extensibility.

Its modular architecture enables future evolution toward AI-assisted mission coordination, autonomous UAV operations, multi-sensor fusion, and next-generation emergency-response systems.